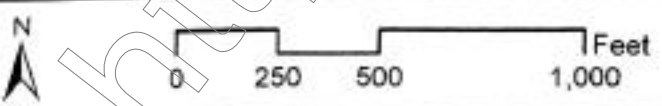


Pacific Ocean



Prepared by: Office of Council Services

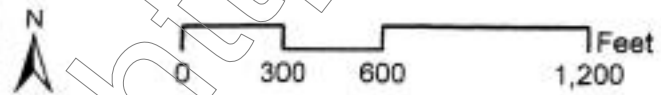
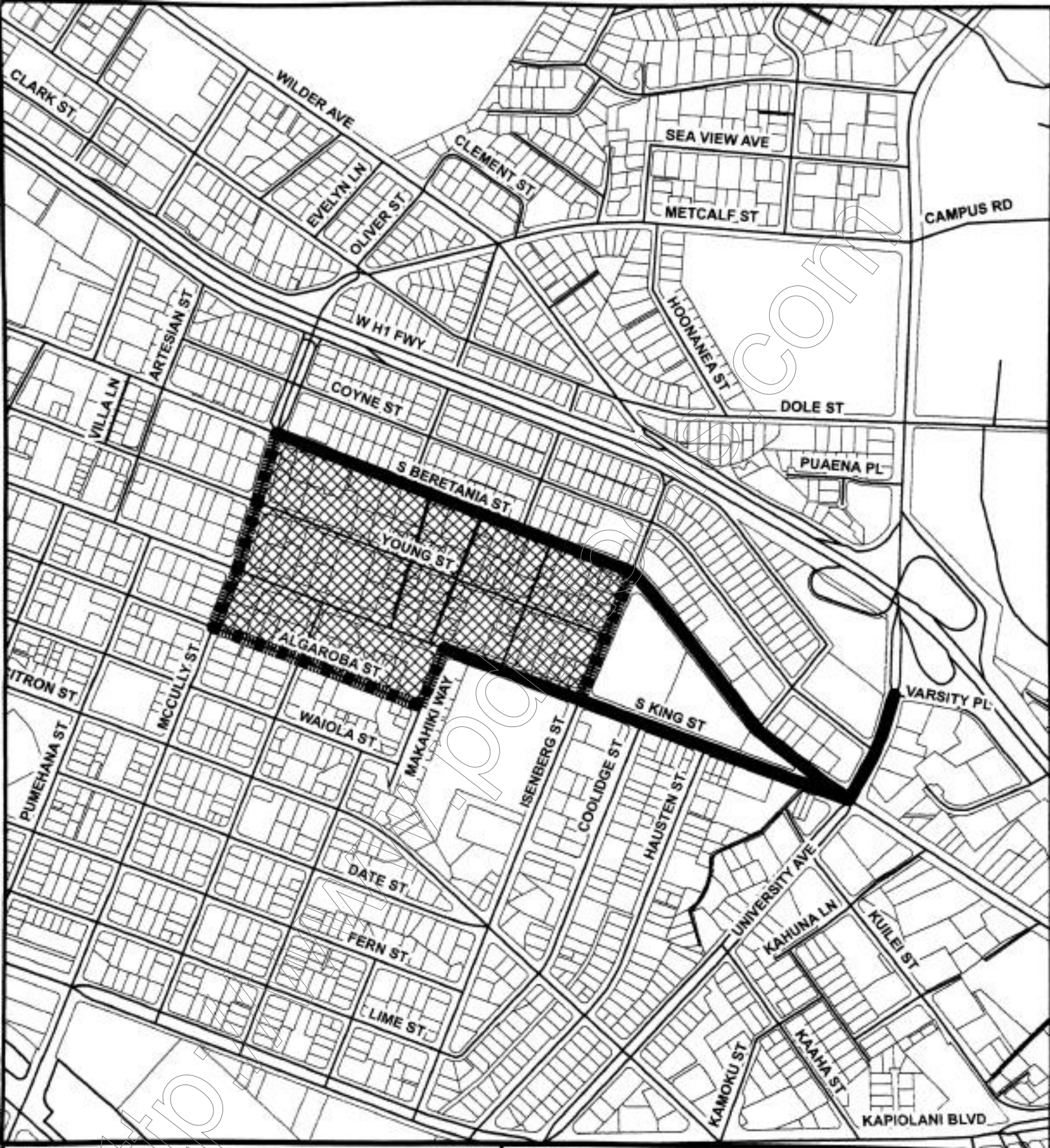


Copyright City & County of Honolulu  
 All Rights Reserved 2008  
 Note: Data represented on this map is not  
 intended to replace site survey.



**Chinatown**

-  Zone
-  Street Segment

**EXHIBIT 1**



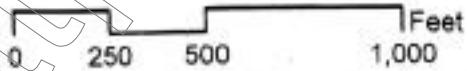
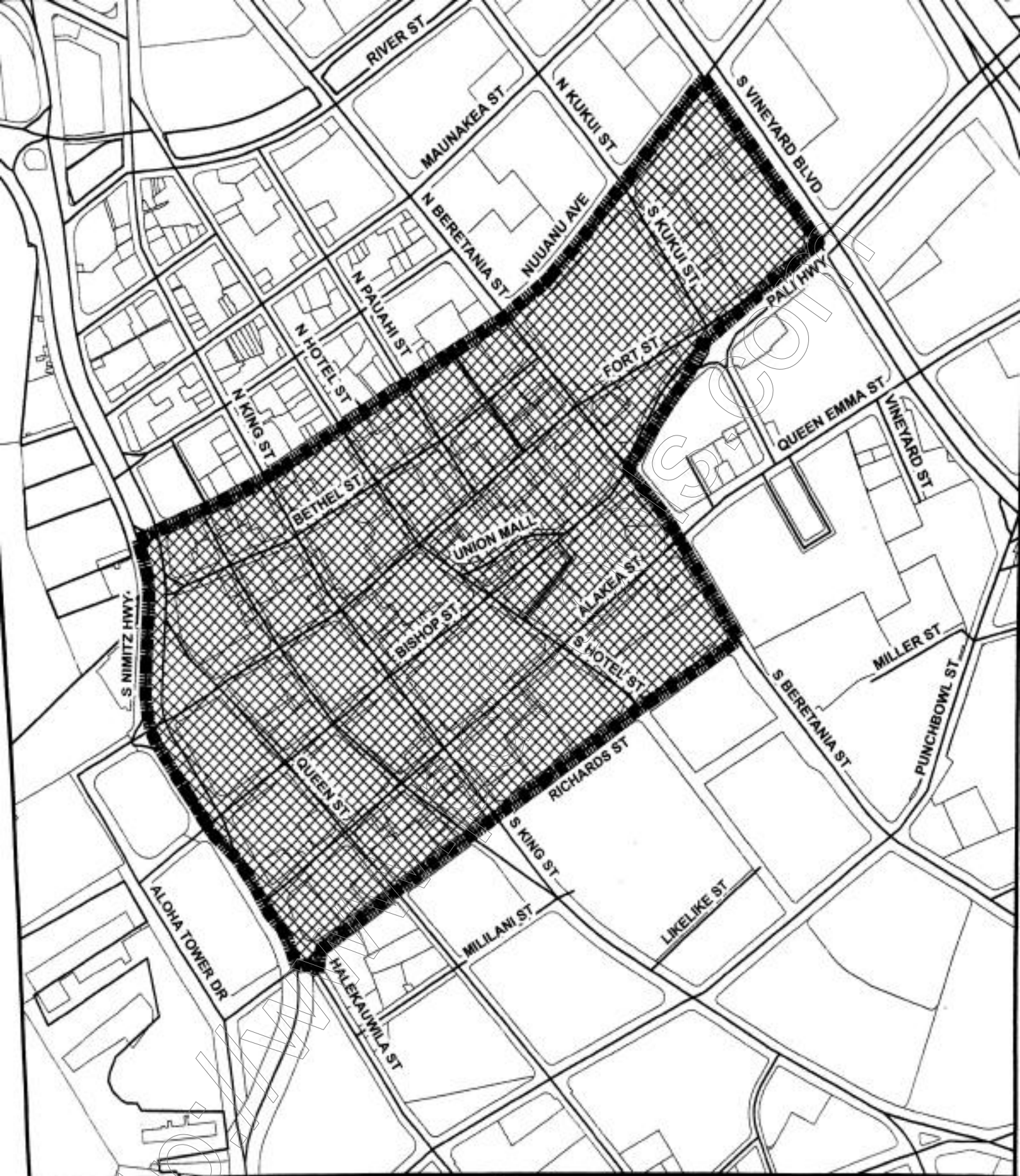
**McCully-Moiliili**

-  Zone
-  Street Segment

Prepared by: Office of Council Services



Copyright City & County of Honolulu  
 All Rights Reserved 2008  
 Note: Data represented on this map is not  
 intended to replace site survey.  
 Date Prepared: October 31, 2014



Prepared by: Office of Council Services

Copyright City & County of Honolulu  
 All Rights Reserved 2008  
 Note: Data represented on this map is not  
 intended to replace a site survey.

Date Prepared: November 6, 2014



### Downtown

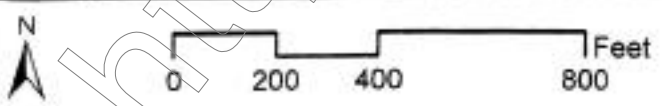
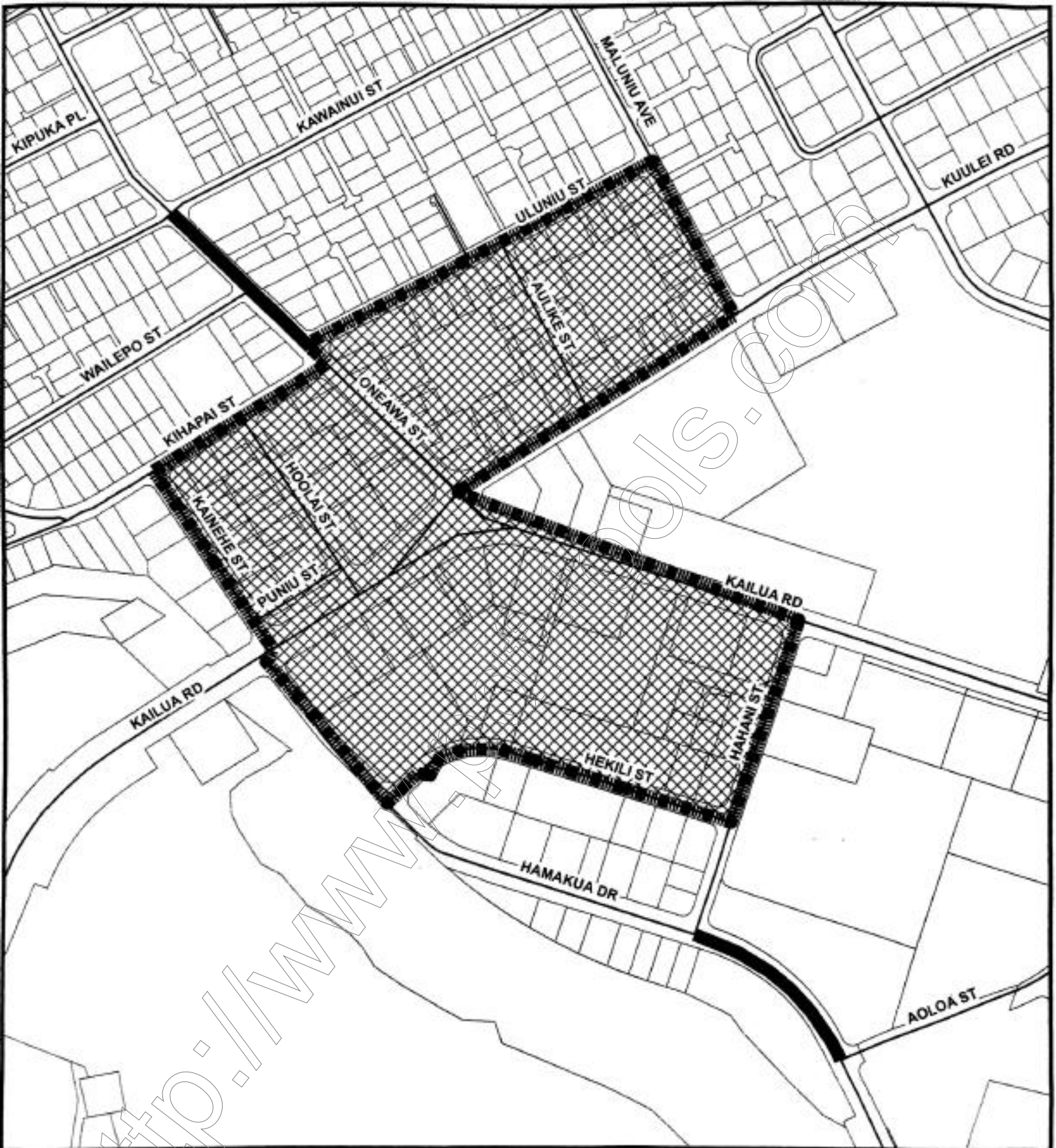


Zone



Street Segment

**EXHIBIT 2**



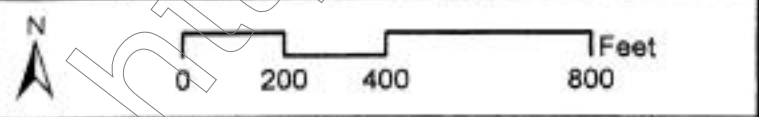
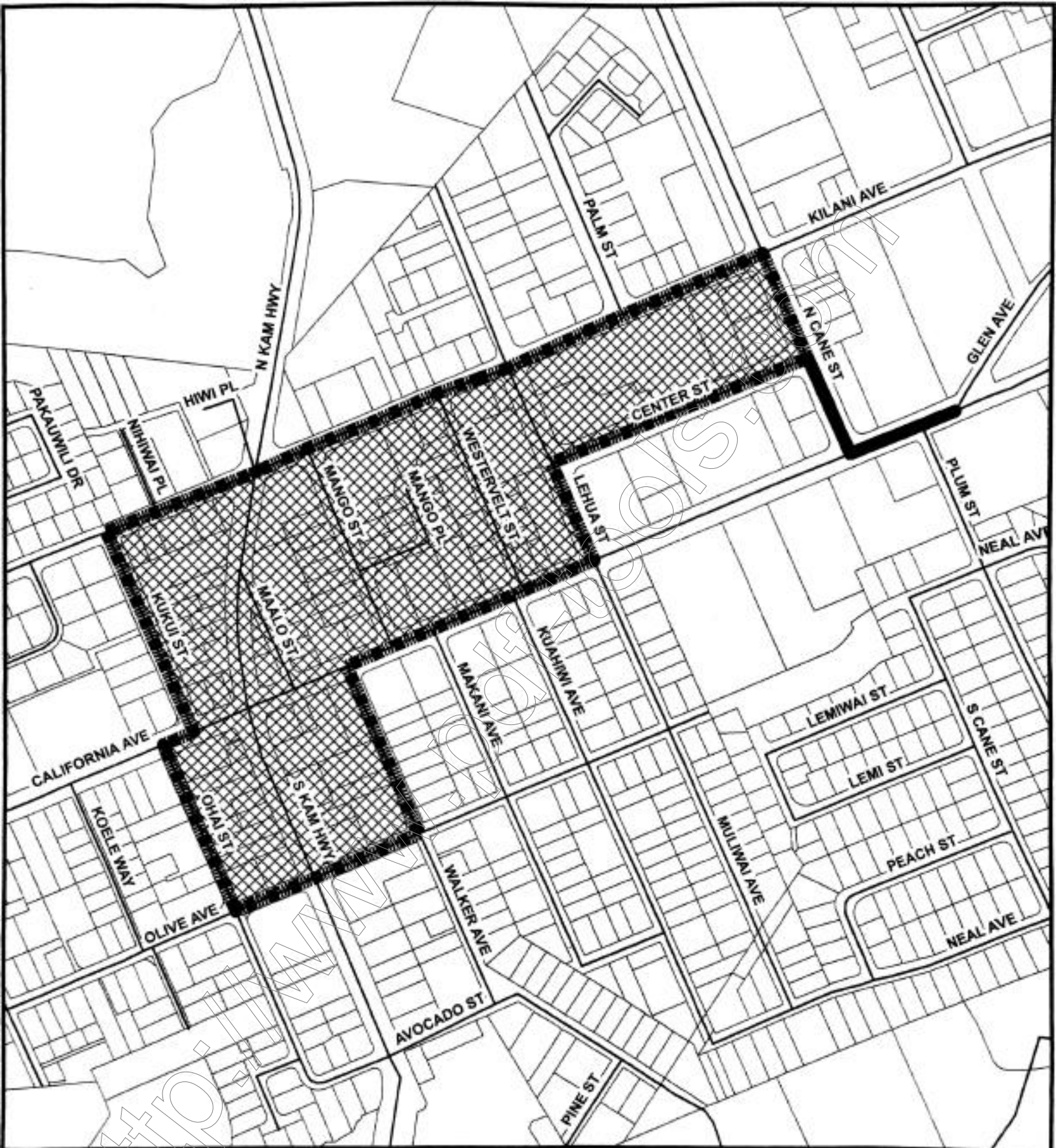
Prepared by: Office of Council Services



Copyright City & County of Honolulu  
 All Rights Reserved 2008  
 Note: Data represented on this map is not  
 intended to replace site survey.

### Kailua

-  Zone
-  Street Segment



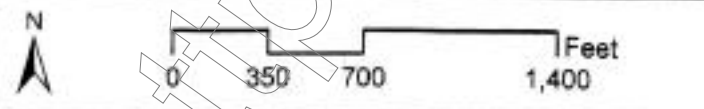
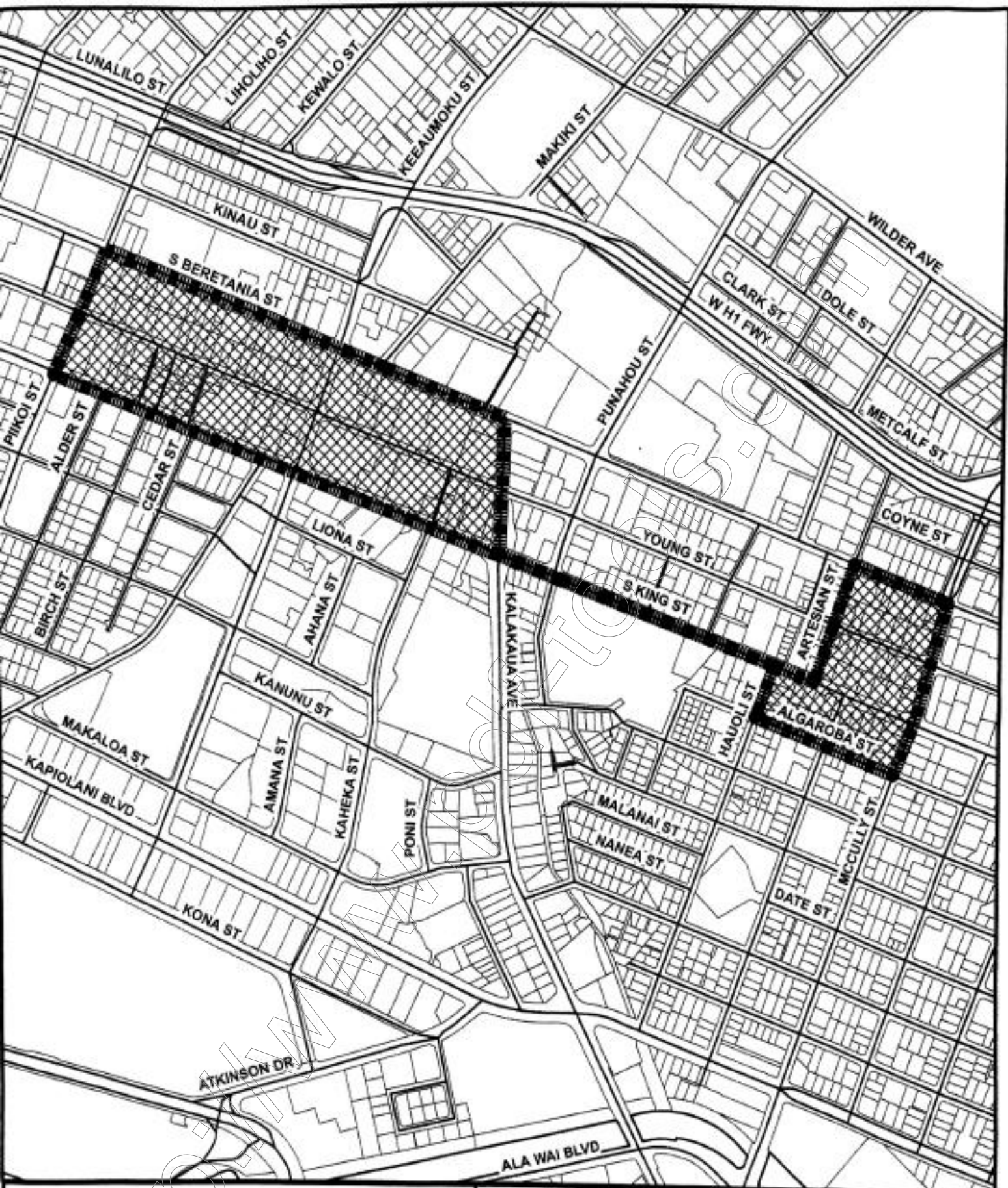
**Wahiawa**

-  Zone
-  Street Segment

Prepared by: Office of Council Services



Copyright City & County of Honolulu  
 All Rights Reserved 2008  
 Note: Data represented on this map is not  
 intended to replace site survey.



Prepared by: Office of Council Services

Copyright: City & County of Honolulu  
 All Rights Reserved 2006  
 Note: Data represented on this map is not  
 intended to replace site survey.

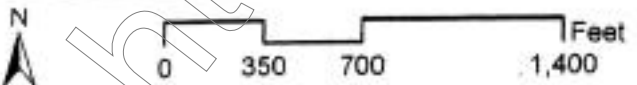
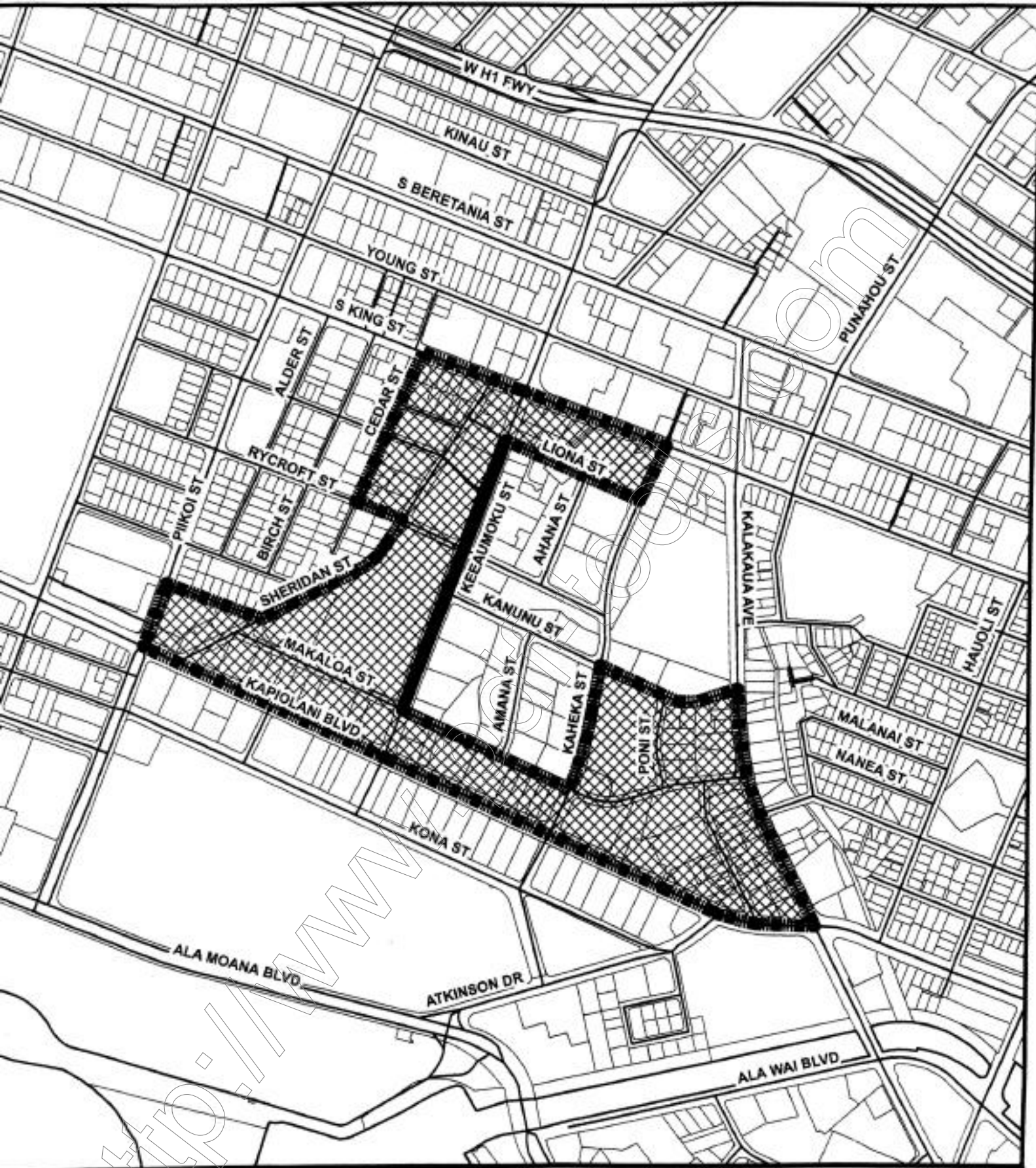


### Ala Moana-Sheridan

-  Zone
-  Street Segment

**EXHIBIT 6-A**

Date Prepared: October 13, 2014



Prepared by: Office of Council Services

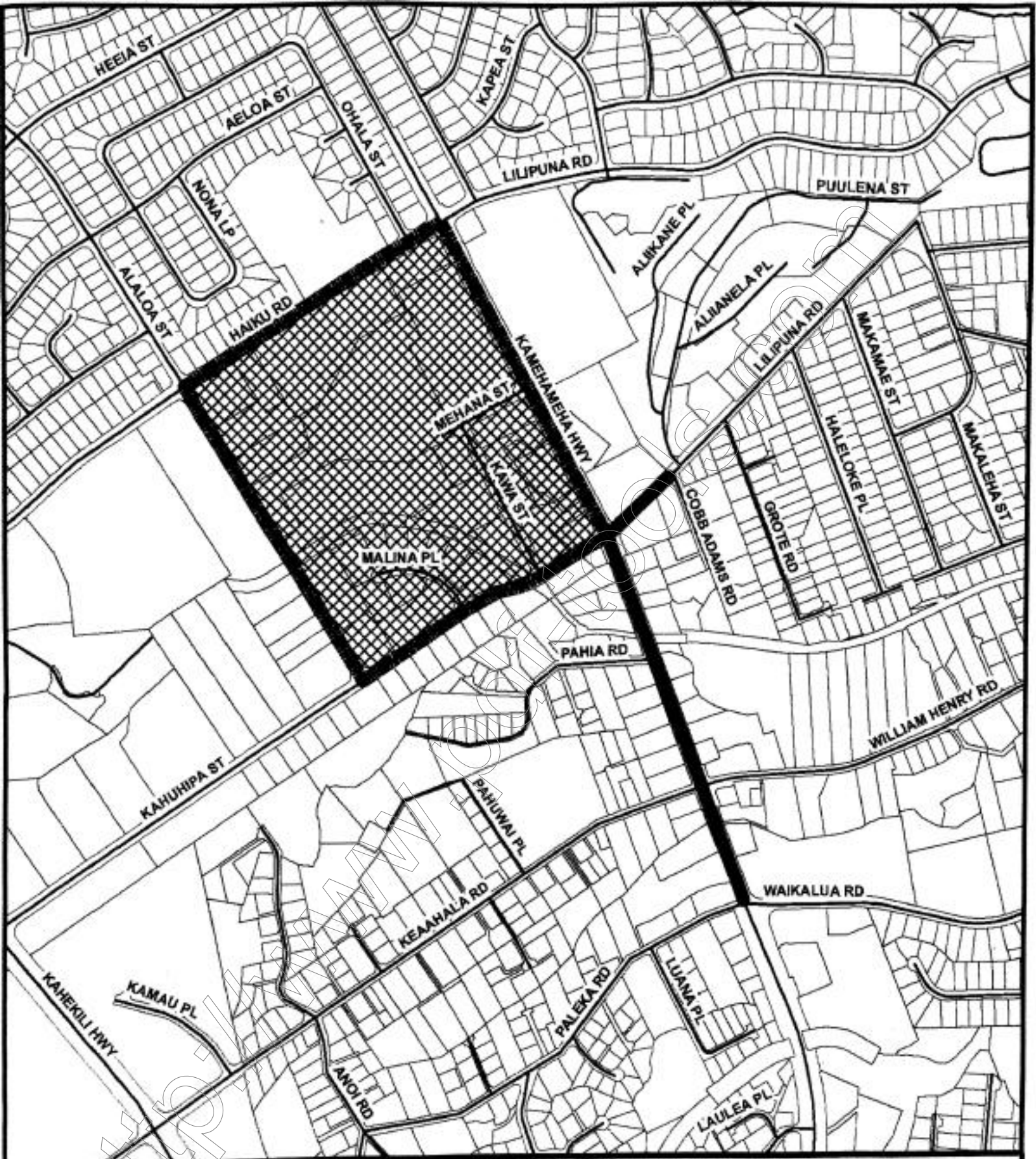


Copyright City & County of Honolulu  
 All Rights Reserved 2008  
 Note: Data represented on this map is not  
 intended to replace site survey.

### Ala Moana-Sheridan

-  Zone
-  Street Segment

**EXHIBIT 6-B**



0 100 200 400 Feet

Prepared by: Office of Council Services



Copyright City & County of Honolulu  
 All Rights Reserved 2008  
 Note: Data represented on this map is not  
 intended to replace a site survey.

### Kaneohe Zone A



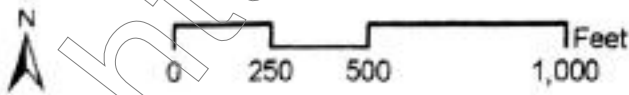
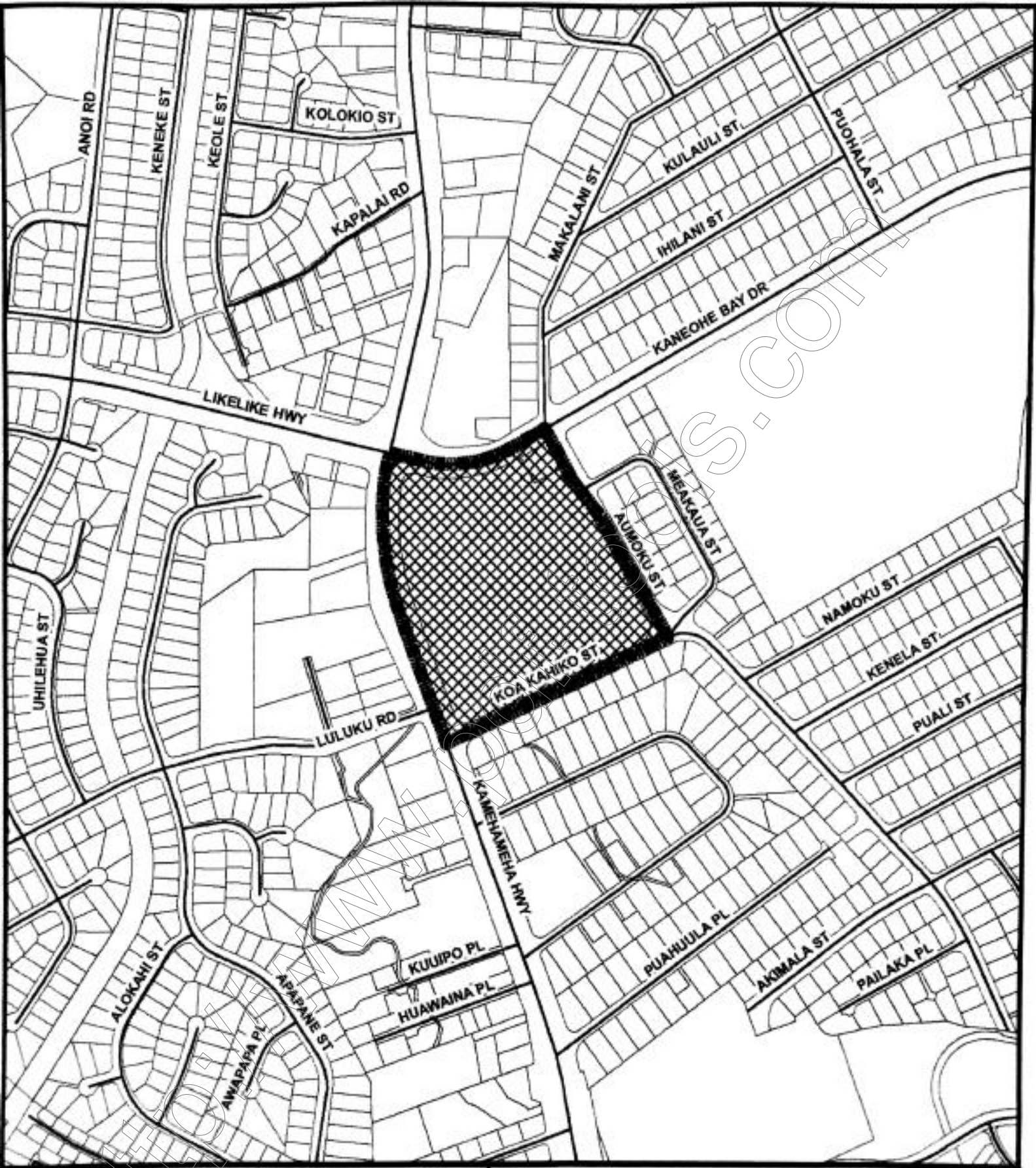
Zone



Street Segment

**EXHIBIT 7-A**





**Kaneohe Zone B**

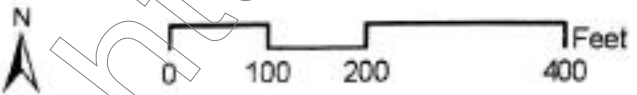
-  Zone
-  Street Segment

Prepared by: Office of Council Services



Copyright City & County of Honolulu  
 All Rights Reserved 2008  
 Note: Data represented on this map is not  
 intended to replace a site survey.

**EXHIBIT 7-B**



**Waimanalo**

-  Zone
-  Street Segment

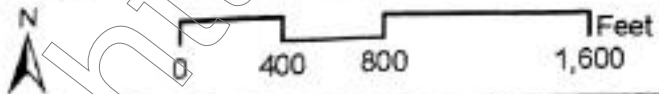
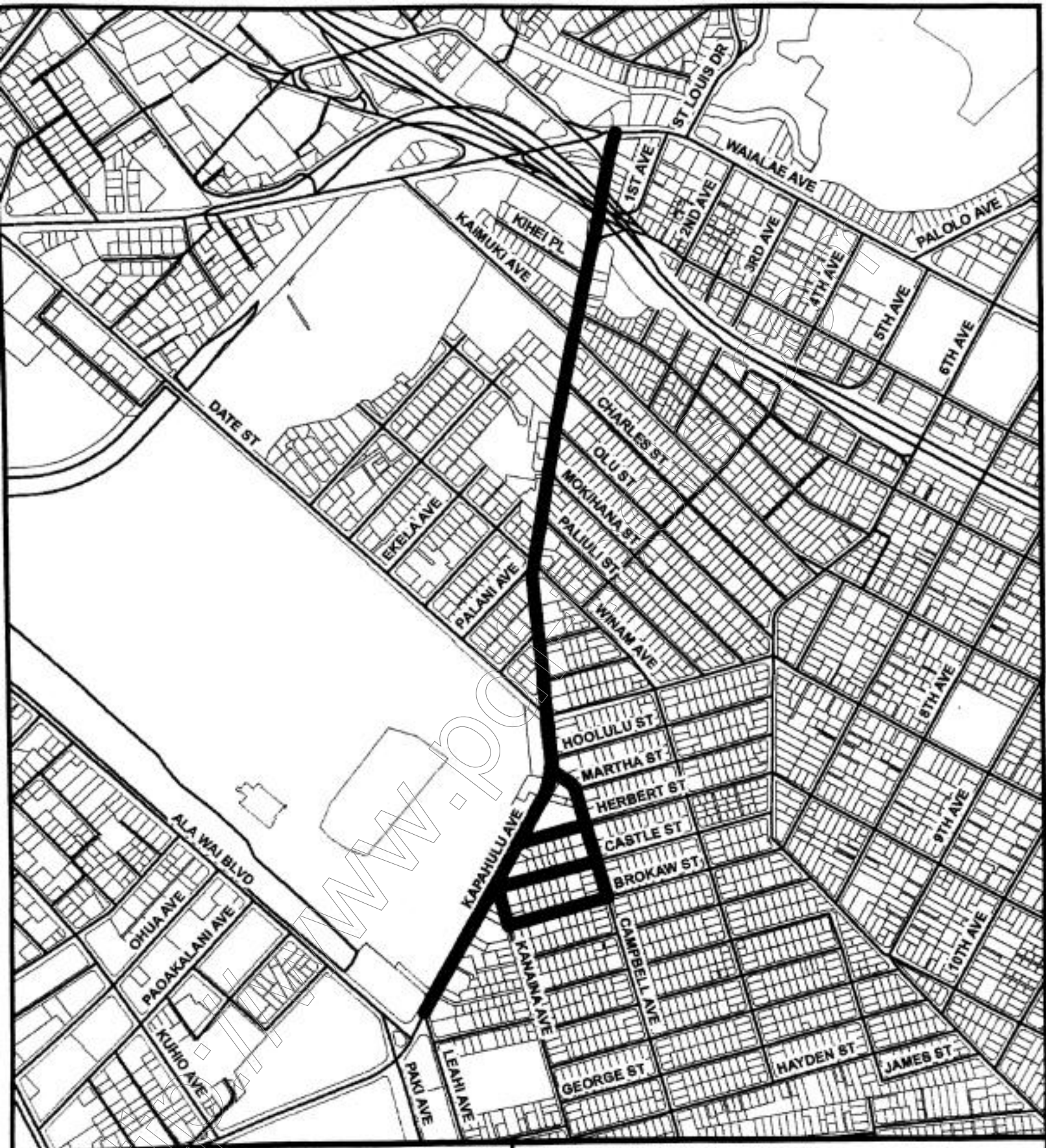
Prepared by: Office of Council Services



Copyright City & County of Honolulu  
All Rights Reserved 2008

Note: Data represented on this map is not intended to replace site survey.

**EXHIBIT 8**





Prepared by: Office of Council Services

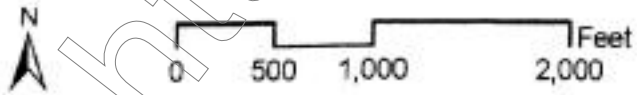


Copyright City & County of Honolulu  
 All Rights Reserved 2008  
 Note: Data represented on this map is not  
 intended to replace a site survey.  
 Date Prepared: October 6, 2014

### Kapahulu

-  Zone
-  Street Segment

**EXHIBIT 9**



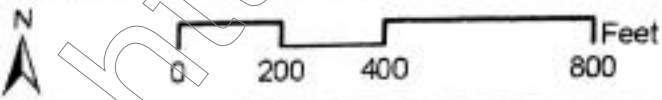
Prepared by: Office of Council Services



Copyright City & County of Honolulu  
 All Rights Reserved 2008  
 Note: Data represented on this map is not  
 intended to replace a site survey.

### Waiialae

-  Zone
-  Street Segment



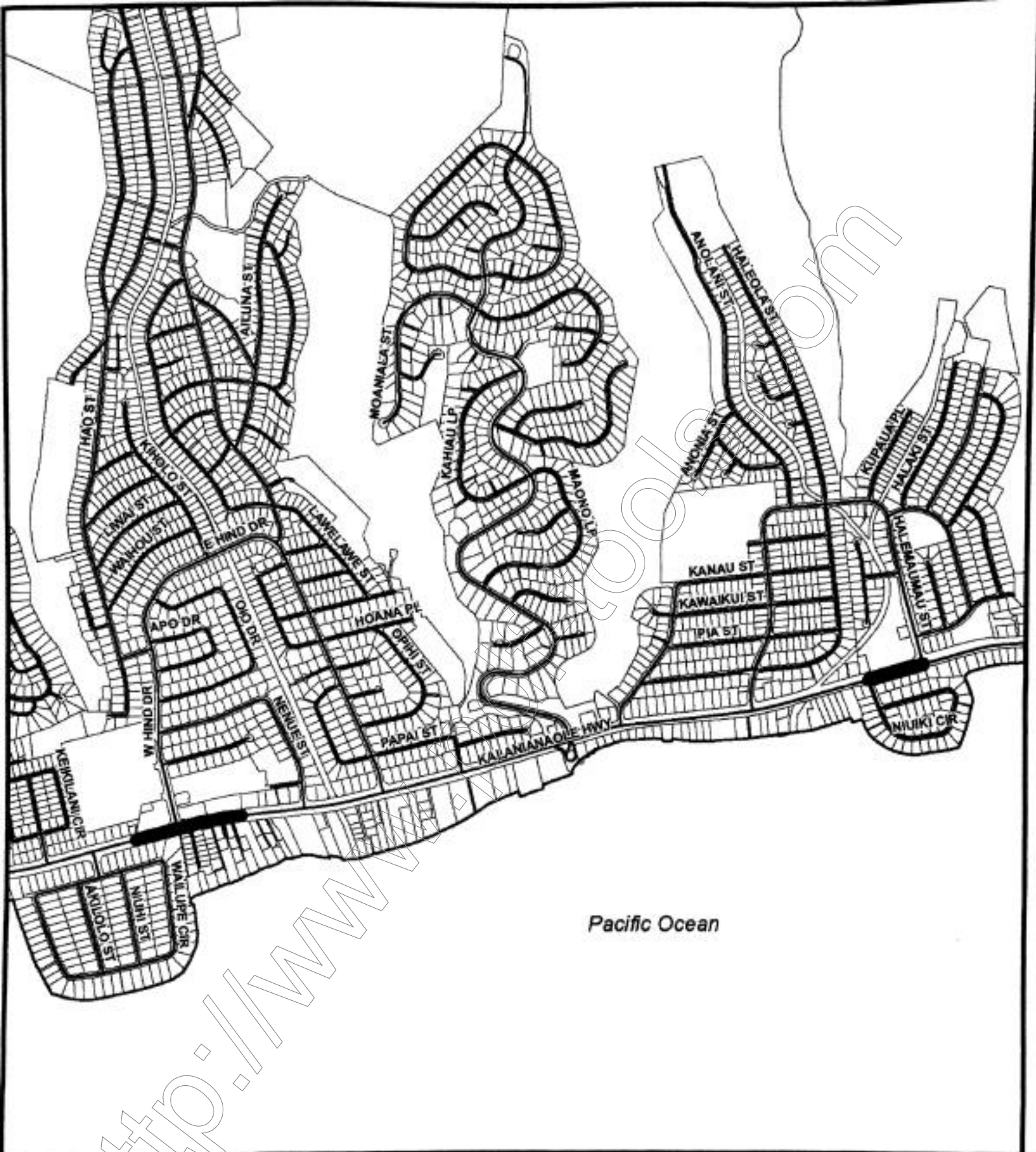
Prepared by: Office of Council Services



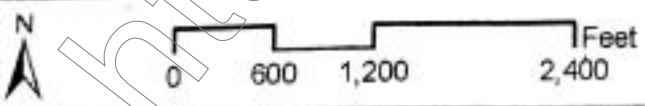
Copyright City & County of Honolulu  
 All Rights Reserved 2008  
 Note: Data represented on this map is not  
 intended to replace site survey.

**Kahala**

-  Zone
-  Street Segment



Pacific Ocean



Prepared by: Office of Council Services

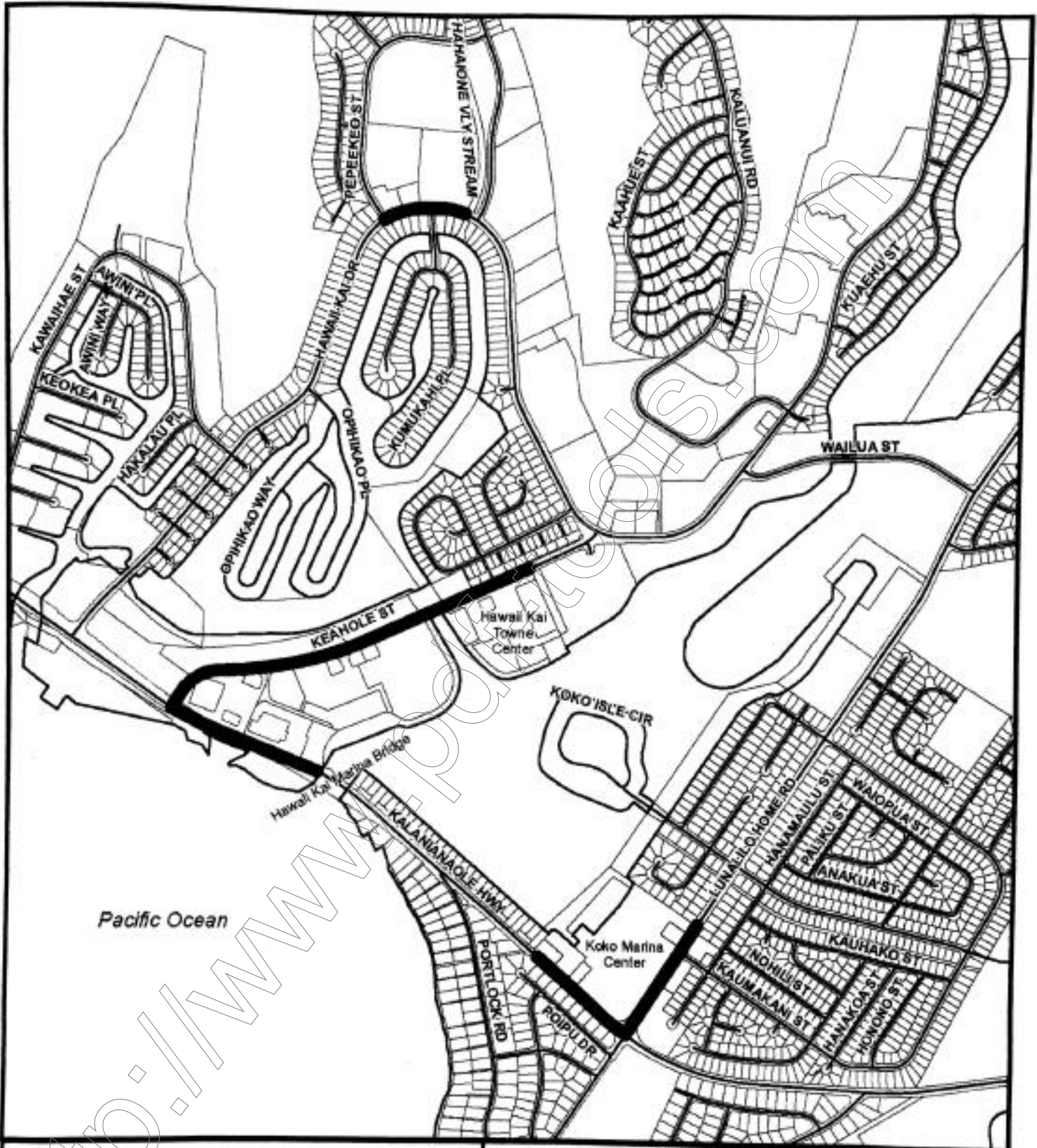



Copyright City & County of Honolulu  
 All Rights Reserved 2008  
 Note: Data represented on this map is not  
 intended to replace site survey.


### Aina Haina - Niu Valley



-  Zone
-  Street Segment

**EXHIBIT 12**




 0 500 1,000 2,000 Feet  
 Prepared by: Office of Council Services  
 Copyright City & County of Honolulu  
 All Rights Reserved 2008  
 Note: Data represented on this map is not  
 intended to replace site survey.  
 Date Prepared: September 29, 2014



**Hawaii Kai**  
 Zone  
 Street Segment  
**EXHIBIT 13**